ROAD ACCIDENT DASHBOARD

PRESENTED BY HARSHA KADAM

DATASHEET

Accident_Index	Accident Da	Month	Year	Day_of_week	Junction_Control	Junction_Detail	Accident_Severi	Latitude	Light_Conditions	Lo
200901BS70001	01-01-2021	Jan	2021	Thursday	Give way or uncontrolled	T or staggered junction	Serious	51.512273	Daylight	Ke
200901BS70002	05-01-2021	Jan	2021	Monday	Give way or uncontrolled	Crossroads	Serious	51.514399	Daylight	Ke
200901BS70003	04-01-2021	Jan	2021	Sunday	Give way or uncontrolled	T or staggered junction	Slight	51.486668	Daylight	Ke
200901BS70004	05-01-2021	Jan	2021	Monday	Auto traffic signal	T or staggered junction	Serious	51.507804	Daylight	Ke
200901BS70005	06-01-2021	Jan	2021	Tuesday	Auto traffic signal	Crossroads	Serious	51.482076	Darkness - lights lit	Ke
200901BS70006	01-01-2021	Jan	2021	Thursday	Give way or uncontrolled	T or staggered junction	Slight	51.493415	Daylight	Ke
200901BS70007	08-01-2021	Jan	2021	Thursday	Give way or uncontrolled	T or staggered junction	Serious	51.480177	Daylight	Ke
200901BS70008	02-01-2021	Jan	2021	Friday	Auto traffic signal	Crossroads	Slight	51.491957	Daylight	Ke
200901BS70009	07-01-2021	Jan	2021	Wednesday	Give way or uncontrolled	T or staggered junction	Slight	51.49646	Daylight	Ke
200901BS70010	10-01-2021	Jan	2021	Saturday	Auto traffic signal	Crossroads	Slight	51.48115	Daylight	Ke
200901BS70011	07-01-2021	Jan	2021	Wednesday	Auto traffic signal	Crossroads	Slight	51.482076	Darkness - lights lit	Ke
200901BS70012	16-01-2021	Jan	2021	Friday	Auto traffic signal	Crossroads	Slight	51.494995	Darkness - lights lit	Ke
200901BS70015	12-01-2021	Jan	2021	Monday	Data missing or out of range	Not at junction or within 20 metres	Slight	51.498778	Daylight	Ke
200901BS70016	09-01-2021	Jan	2021	Friday	Give way or uncontrolled	T or staggered junction	Slight	51.506187	Daylight	Ke
200901BS70017	17-01-2021	Jan	2021	Saturday	Give way or uncontrolled	T or staggered junction	Slight	51.493077	Daylight	Ke
200901BS70019	25-01-2021	Jan	2021	Sunday	Auto traffic signal	Crossroads	Serious	51.482076	Darkness - lights lit	Ke
200901BS70020	26-01-2021	Jan	2021	Monday	Give way or uncontrolled	Crossroads	Slight	51.488673	Darkness - lights lit	Ke
200901BS70021	26-01-2021	Jan	2021	Monday	Data missing or out of range	Not at junction or within 20 metres	Slight	51.482363	Darkness - lights lit	Ke
200901BS70023	19-01-2021	Jan	2021	Monday	Give way or uncontrolled	T or staggered junction	Slight	51.49391	Daylight	Ke
200901BS70024	27-01-2021	Jan	2021	Tuesday	Data missing or out of range	Not at junction or within 20 metres	Slight	51.509296	Darkness - lights lit	Ke
200901BS70025	21-01-2021	Jan	2021	Wednesday	Give way or uncontrolled	T or staggered junction	Slight	51.50228	Darkness - lights lit	Ke
200901BS70026	22-01-2021	Jan	2021	Thursday	Give way or uncontrolled	T or staggered junction	Slight	51.507588	Darkness - lights lit	Ke
200901BS70027	31-01-2021	Jan	2021	Saturday	Auto traffic signal	Crossroads	Serious	51.488585	Daylight	Ke
200901BS70028	03-02-2021	Feb	2021	Tuesday	Give way or uncontrolled	T or staggered junction	Slight	51.528344	Daylight	Ke

DASHBOARD

ROAD ACCIDENT DASHBOARD

TOTAL CASUALTIES 18852

FATAL CASUALTIES 430 2.3%

SERIOUS CASUALTIES 2891 15.3%

SLIGHT CASUALTIES 15531 82.4%

CASUALTIES BY CAR 15116 80.2%

TOTAL CASUALTIES BY VEHICLE TYPE

15116

1451

555

1500

59

171

CY CASUALTIES VS PY CASUALTIES MONTHLY TREND

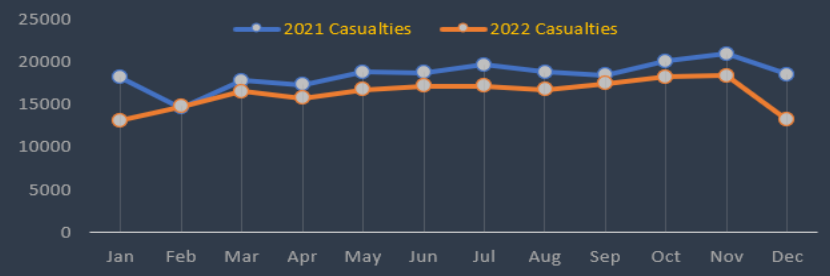

CASUALTIES BY ROAD TYPE

CASUALTIES BY ROAD SURFACE



CASUALTIES BY LOCATION/AREA

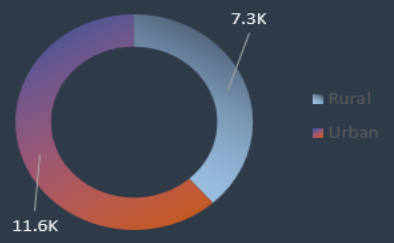

CASUALTIES BY LIGHT CONDITION

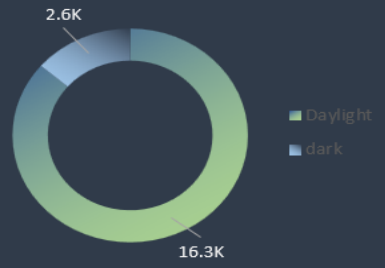

FILTER PANNEL

Accident Date

May 2021 MONTHS

2021

JAN FEB MAR APR MAY JUN JU

Urban_or_Rural_...

Rural

Urban

Dashboard | monthly trend | road type | tree map | doughnut chart | data sheet | data analysis sheet

28°C Cloudy

Search

ENG IN

15:03 12-09-2025

KPI

A1

primary KPI

Sum of Number_of_Casualties
417883

Primary KPI

Row Labels	Sum of Number_of_Casualties
Fatal	7135
Serious	59312
Slight	351436
Grand Total	**417883**

Secondary KPI

Row Labels	Sum of Number_of_Casualties
Agricultural vehicle	1032
cars	333485
bus	12798
van	33472
bike	33672
other	3424
Grand Total	**417883**

Road Type

	Sum of Number_of_Casualties
(blank)	1.9K
Slip road	4.7K
One way street	7.4K
Roundabout	26.8K
Dual carriagew	67.4K
Single carriage	309.7K
Grand Total	**417883**

Road Surface

Row Labels	Sum of Number_of_Casualties
Dry	279445
(blank)	396
wet	115261
snow/ice	22781
Grand Total	**417883**

Urban/Rural

Row Labels	Sum of Number_of_Casualties
Rural	162.0K
Urban	255.9K
Grand Total	**417883**

Monthly Trend

Year 2021

Row Labels	Sum of Number_of_Casualties
Jan	18173
Feb	14648
Mar	17815
Apr	17335
May	18852
Jun	18728
Jul	
Aug	
Sep	
Oct	20109
Nov	20975
Dec	18576
Grand Total	**222146**

Sum of Number_of_Casualties
Value: 18728
Row: Jun

Year 2022

Row Labels	Sum of Number_of_Casualties
Jan	13163
Feb	14804
Mar	16575
Apr	15767
May	16775
Jun	17230
Jul	17201
Aug	16796
Sep	17500
Oct	18287
Nov	18439
Dec	13200
Grand Total	**195737**

Light Conditions

Row Labels	Sum of Number_of_Casualties
Daylight	305.0K
dark	112.9K
Grand Total	**417883**

data analysis sheet

INSIGHTS FOR DASHBOARD

- 🚦 **Severity:** Most accidents are **slight**, few serious, very few fatal.
- 👥 **Casualties:** Usually **1 per accident**, rare high-casualty cases.
- 🚚 **Vehicles:** Mostly **cars**, typically **2 vehicles per crash**.
- 🛣️ **Roads:** Mainly **single carriageways**, speed limit **30 mph**.
- 🌤️ **Conditions:** Mostly **daylight, fine weather, dry roads**.
- 🌍 **Area:** All accidents in **urban areas**, largely under **Metropolitan Police**.

ADVANTAGES & DISADVANTAGES

✅ ADVANTAGES :

- Helps identify high-risk conditions (daylight vs dark, dry vs wet roads).
- Reveals casualty severity patterns (fatal, serious, slight).
- Provides insights on vehicle type impact (cars causing majority of casualties).
- Shows road type risks (single carriageway most dangerous).
- Supports policy making & road safety planning with clear trends and visuals.

❌ DISADVANTAGES :

- Data is limited to recorded accidents → may miss unreported cases.
- Dashboard is descriptive only, not predictive.
- Doesn't capture driver behavior factors (speeding, alcohol, distraction).
- Location details are broad (urban/rural) → lacks granular mapping.
- May not reflect real-time changes (delays in data collection/reporting).

THANK YOU